# gulfmenhadenEstuary model summary

## Contents


**Overview** . . . . . 2
**Variables:** . . . . . 2
**Components:** . . . . . 4
**Model equation:** . . . . . 4
**Global sensitivity and uncertainty analysis:** . . . . . 4
**Model uncertainty** . . . . . 4
**Model sensitivity** . . . . . 6
Original model . . . . . 7
Arithmetic mean model . . . . . 8
Geometric mean model . . . . . 9
Limiting factor model . . . . . 10
Multiplicative model . . . . . 11
Summary of influential variables . . . . . 12
References . . . . . 12

**Overview**

This document summarizes the results of a global sensitivity and uncertainty analysis for the **gulfmenhadenEstuary** habitat suitability index (HSI) model for *Brevoortia patronus*. Metadata for the model is stored in the ecorest package in R.

The original documentation for this model can be found here[1].

Sub-model: **Estuarine habitats**

The gulfmenhadenEstuary model is comprised of **9** variables and **3** components.

**Variables:**

**Table 1.** SIV variables included in the gulfmenhadenEstuary model. Type indicates whether a variable is continuous or categorical and breakpoints indicates the number of distinct breakpoints in suitability graphs.

| | Variable name | Type | Breakpoints |
|---|---|---|---|
| SIV3 | avg.annual.sal.SIV | continuous | 4 |
| SIV5 | subs.comp.SIV | categorical | 3 |
| SIV8 | lowest.mon.avg.winter.wtr.temp.juv.SIV | continuous | 5 |
| SIV9 | lowest.mon.avg.winter.sal.juv.SIV | continuous | 5 |
| SIV10 | lowest.weekly.avg.DO.SIV | continuous | 4 |
| SIV11 | marsh.acreage.SIV | categorical | 4 |
| SIV12 | estuarine.wtr.color.SIV | categorical | 3 |
| SIV13 | highest.mon.avg.summer.wtr.temp.ad.SIV | continuous | 6 |
| SIV14 | avg.annual.sal.ad.SIV | continuous | 4 |

[1] https://ecolibrary.sec.usace.army.mil/resource/7d84b2f4-2b50-4ca4-c142-fe397d9a36de

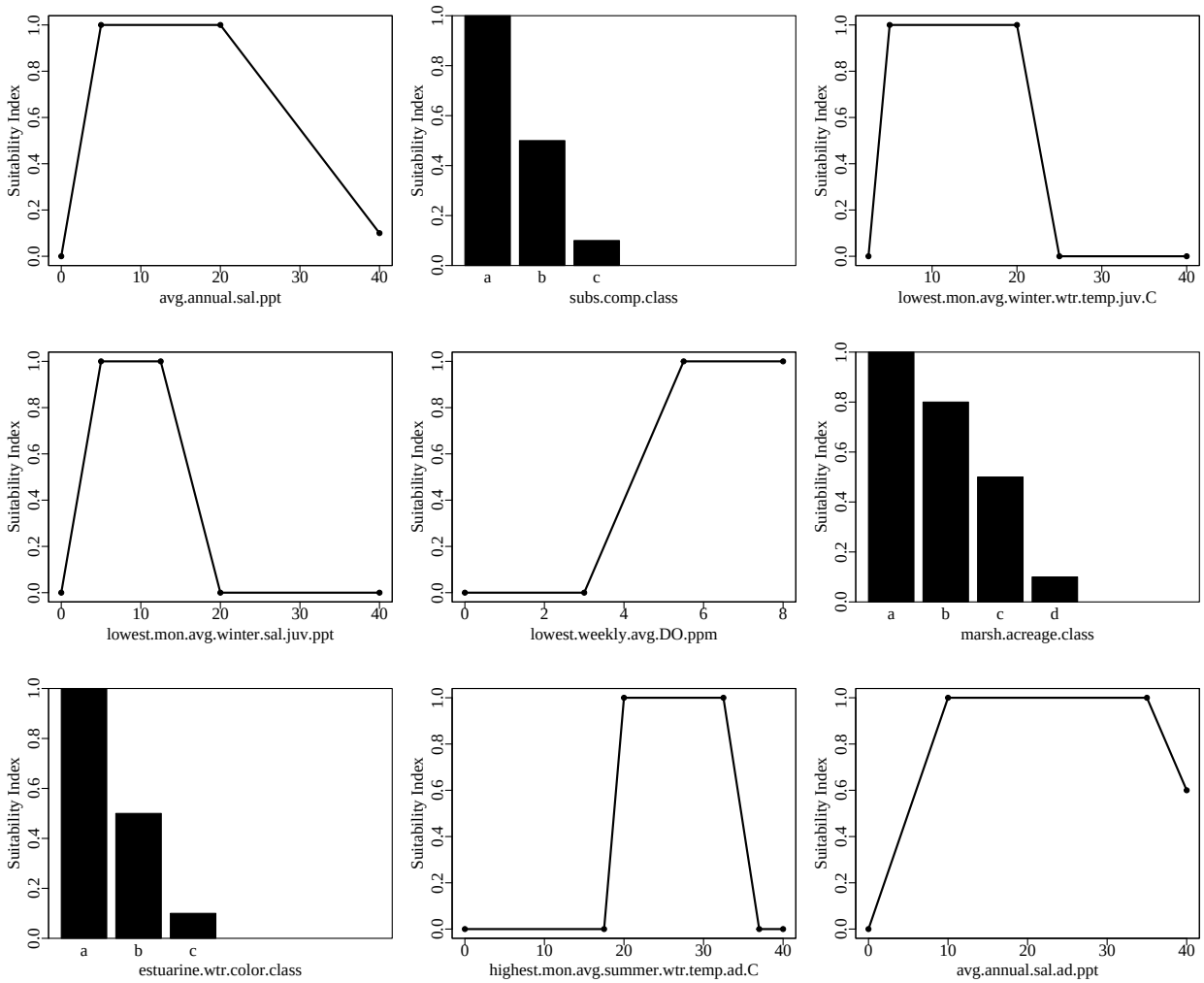


**Figure 1.** Suitability index graphs for variables included in the gulfmenhadenEstuary model in ecorest.

**Components:**

**Table 2.** Components included in the gulfmenhadenEstuary model in ecorest.

| | Component | Equation |
|---|---|---|
| CF | Food component | (((SIV3)^2)*((SIV12)^2)*SIV5)^(1/5) |
| CC | Cover component | SIV11 |
| CWQ | Water quality component | (((SIV8*SIV13)^(1/2))+((SIV9*SIV14)^(1 |

**Model equation:**

The equation to calculate an overall HSI index for the gulfmenhadenEstuary model is:

(CWQ*((CF)^2)*CC)^(1/4)

According to our classification, this model's format is: **author-specified**

**Global sensitivity and uncertainty analysis:**

We ran global sensitivity and uncertainty analyses on the gulfmenhadenEstuary model using the sensobol package in R (Puy et al. 2022). The following parameters were used for the sensobol analysis:

**Table 3.** Parameters and settings used for sensobol sensitivity and uncertainty analyses.

| Parameter | Equation | Value |
|---|---|---|
| Number of input variables (M) | - | 9 |
| Base sample size (n) | - | 77000 |
| Number of model evaluations (N) | n*(M+2) | 847000 |
| First order estimator | See Puy et al. (2022) | Saltelli |
| Total order estimator | See Puy et al. (2022) | Jansen |
| Number of bootstrap replications | - | 1000 |
| Sampling scheme | - | Quasi-random |
| Matrices | - | A, B, AB |

We ran a sensitivity and uncertainty analysis for the gulfmenhadenEstuary model using the original equation outlined in the documentation from Christmas et al. (1982) and using arithmetic mean, geometric mean, limiting factor, and multiplicative equations to contrast the results across different equation structures.

**Model uncertainty**

We ran the gulfmenhadenEstuary model using 847000 combinations of its SIV variables, which were sampled from a uniform distribution spanning the range of possible values listed in the gulfmenhadenEstuary documentation. We limited the range of possible values for each parameter to the range in which the SIV values were greater than zero to prevent HSI score distributions with primarily zero values.

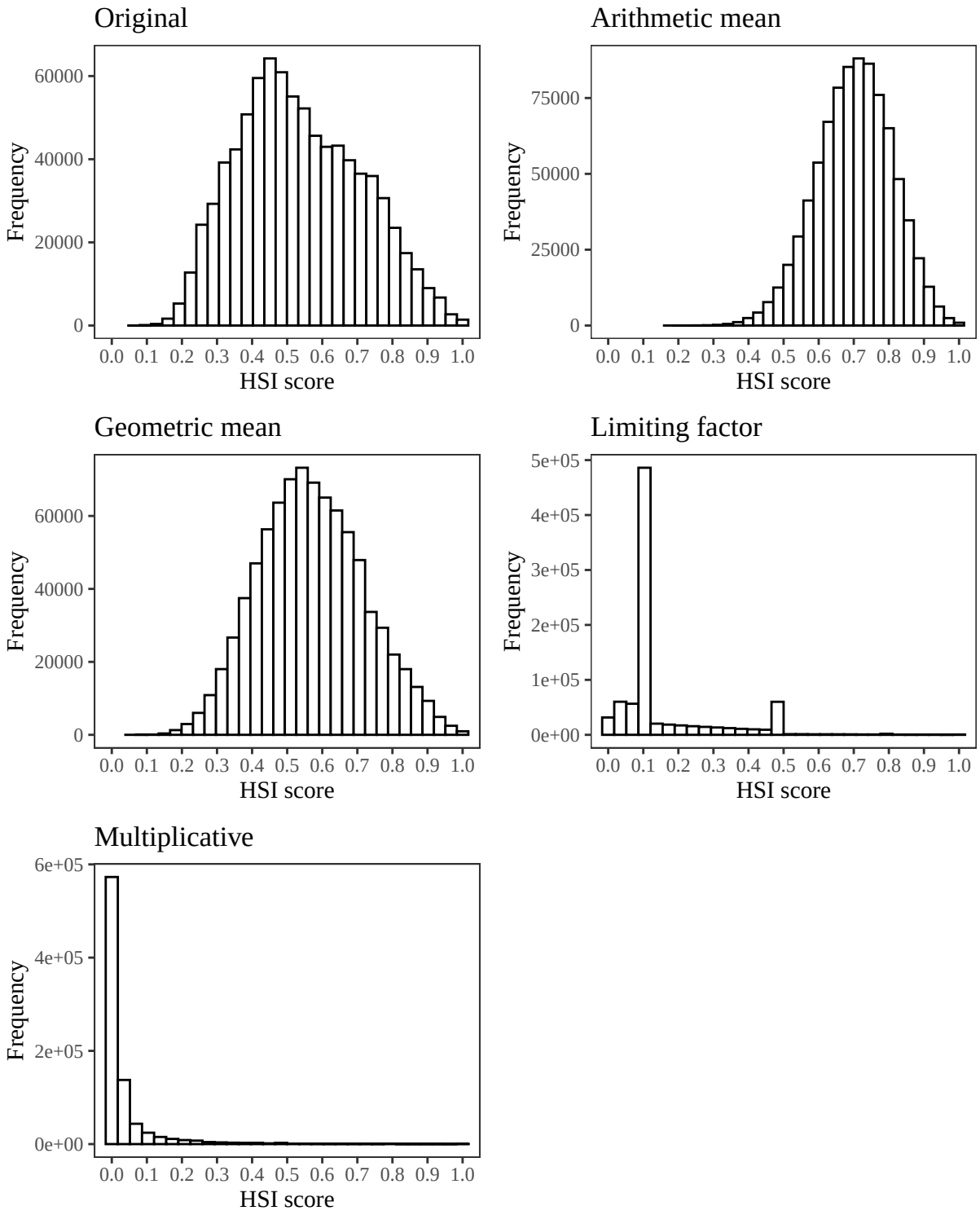


**Figure 2.** Empirical distributions of HSI scores for the gulfmenhadenEstuary model using the original author-specified model equation from Christmas et al. (1982), and an arithmetic mean, geometric mean, limiting factor, and multiplicative structure incorporating all SIV variables. Note differences in the y axis.

We assumed a uniform distribution for all parameters because we evaluated all ecorest models in batch. Should you decide to run your own sensitivity analysis, this assumption should be evaluated independently for each parameter in the model.

**Table 4.** Quantiles from the empirical distribution of HSI scores for the original gulfmenhadenEstuary model structure, an arithmetic mean equation, a geometric mean equation, a limiting factor equation, and a multiplicative equation structure.

| | **1%** | **2.5%** | **5%** | **25%** | **50%** | **75%** | **95%** | **97.5%** | **99%** | **100%** |
|---|---|---|---|---|---|---|---|---|---|---|
| Original | 0.21 | 0.24 | 0.27 | 0.41 | 0.52 | 0.67 | 0.84 | 0.88 | 0.93 | 1 |
| Arithmetic | 0.44 | 0.48 | 0.52 | 0.63 | 0.71 | 0.78 | 0.87 | 0.90 | 0.93 | 1 |
| Geometric | 0.25 | 0.30 | 0.33 | 0.46 | 0.56 | 0.67 | 0.83 | 0.87 | 0.92 | 1 |
| Limiting | 0.00 | 0.01 | 0.02 | 0.10 | 0.10 | 0.12 | 0.50 | 0.50 | 0.56 | 1 |
| Multiplicative | 0.00 | 0.00 | 0.00 | 0.00 | 0.01 | 0.03 | 0.19 | 0.30 | 0.46 | 1 |

Generally, models with outputs that span the entire range of possible outcomes (*i.e.*, 0-1) may be better at discriminating between different restoration actions or across habitat quality. The empirical distribution of HSI scores can also provide you with information about whether HSI scores for a given model tend to be skewed (*e.g.*, many low scores and few high scores, uniform probability of obtaining scores from 0-1, *etc.*)

### Model sensitivity

Below are the results of the global sensitivity analysis for the gulfmenhadenEstuary model using the original equation, an arithmetic mean, a geometric mean, a limiting factor, and a multiplicative model structure. The sensobol package uses variance-based sensitivity metrics, so the model's sensitivity to a given parameter is a measure of how much variance in the HSI score decreases in response to that parameter being fixed (Puy et al. 2022). For each parameter, the observed changes in the variance of the HSI score can be described with a first order sensitivity index ($S_i$) that accounts for the influence of a single parameter of interest on variance in HSI, or with a total order index ($T_i$) that accounts for the influence of a single parameter on its own and in combination with all other parameters (*i.e.*, interactions) (Puy et al. 2022). We can compare the 95% confidence intervals for the first and total order indices to a dummy parameter, which represents a parameter that has no influence on the variance in a model's output. While an uninfluential variable should theoretically have an $S_i$ and $T_i$ of zero, small approximation errors can lead variables to have a non-zero influence on a model's output (Puy et al. 2022). If the confidence interval of the $S_i$ and $T_i$ index for a given parameter overlaps the confidence interval of the dummy parameter, we can deduce that the parameter has a negligible effect on variance in HSI scores, both on its own and in combination with all other variables.

To ensure that the results of our sensitivity analysis converged, we determined whether the range of the 95% confidence interval for each sensitivity index was less than or equal to 0.05 (Sarrazin et al., 2016). Models that did not converge should be interpreted with caution.

**Table 5.** Model convergence records for the original gulfmenhadenEstuary model structure, an arithmetic mean equation, a geometric mean equation, a limiting factor equation, and a multiplicative equation structure.

| | **Did the model converge? (T/F)** |
|---|---|
| Original | TRUE |
| Arithmetic | TRUE |
| Geometric | TRUE |
| Limiting | TRUE |
| Multiplicative | TRUE |

**Original model**

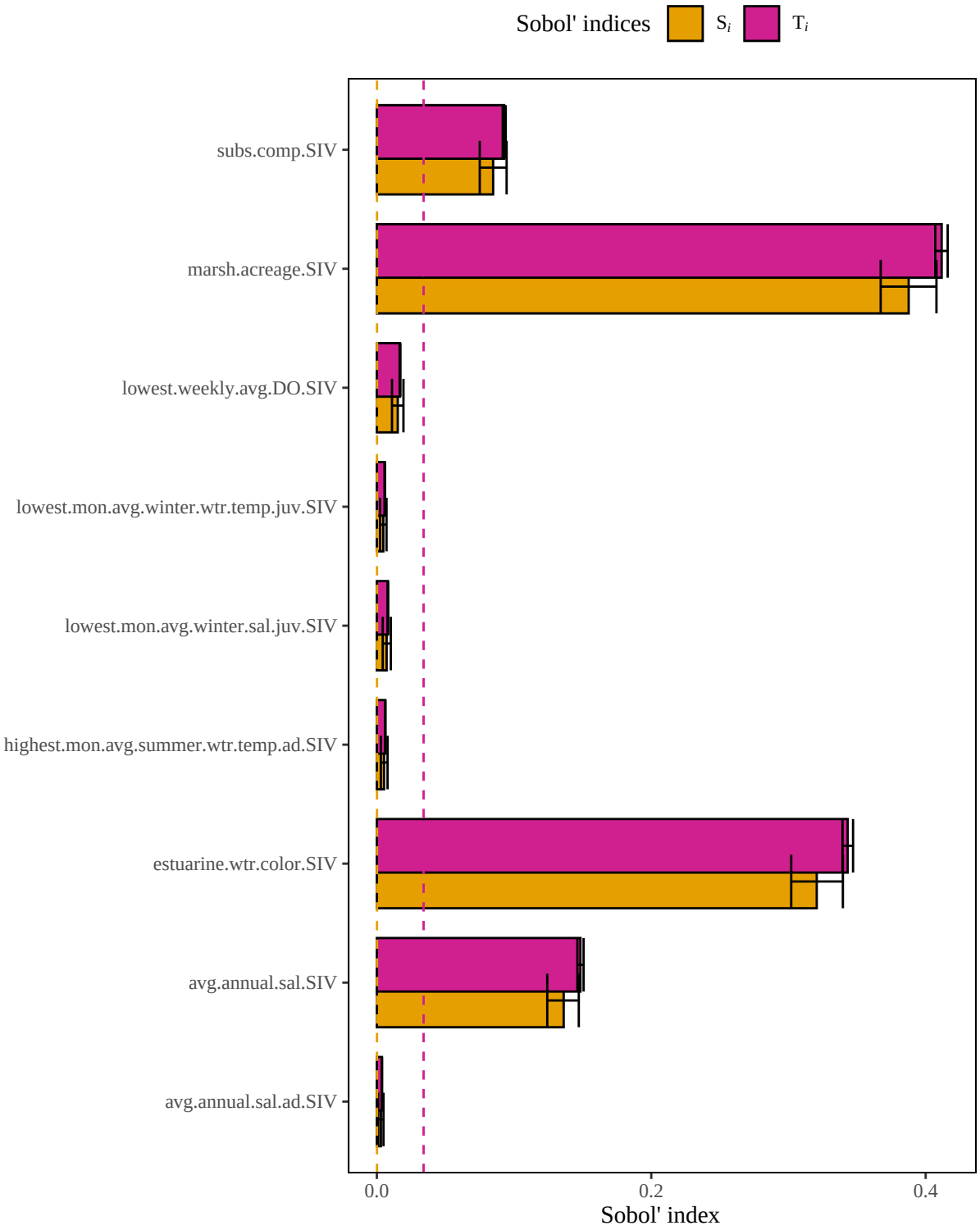


**Figure 3.** Results of a sensitivity analysis for the gulfmenhadenEstuary model based on the original author-specified model outlined in Christmas et al. (1982). Dashed lines represent baseline numerical approximation error for $S_i$ and $T_i$ (*i.e.*, dummy variables).

**Arithmetic mean model**

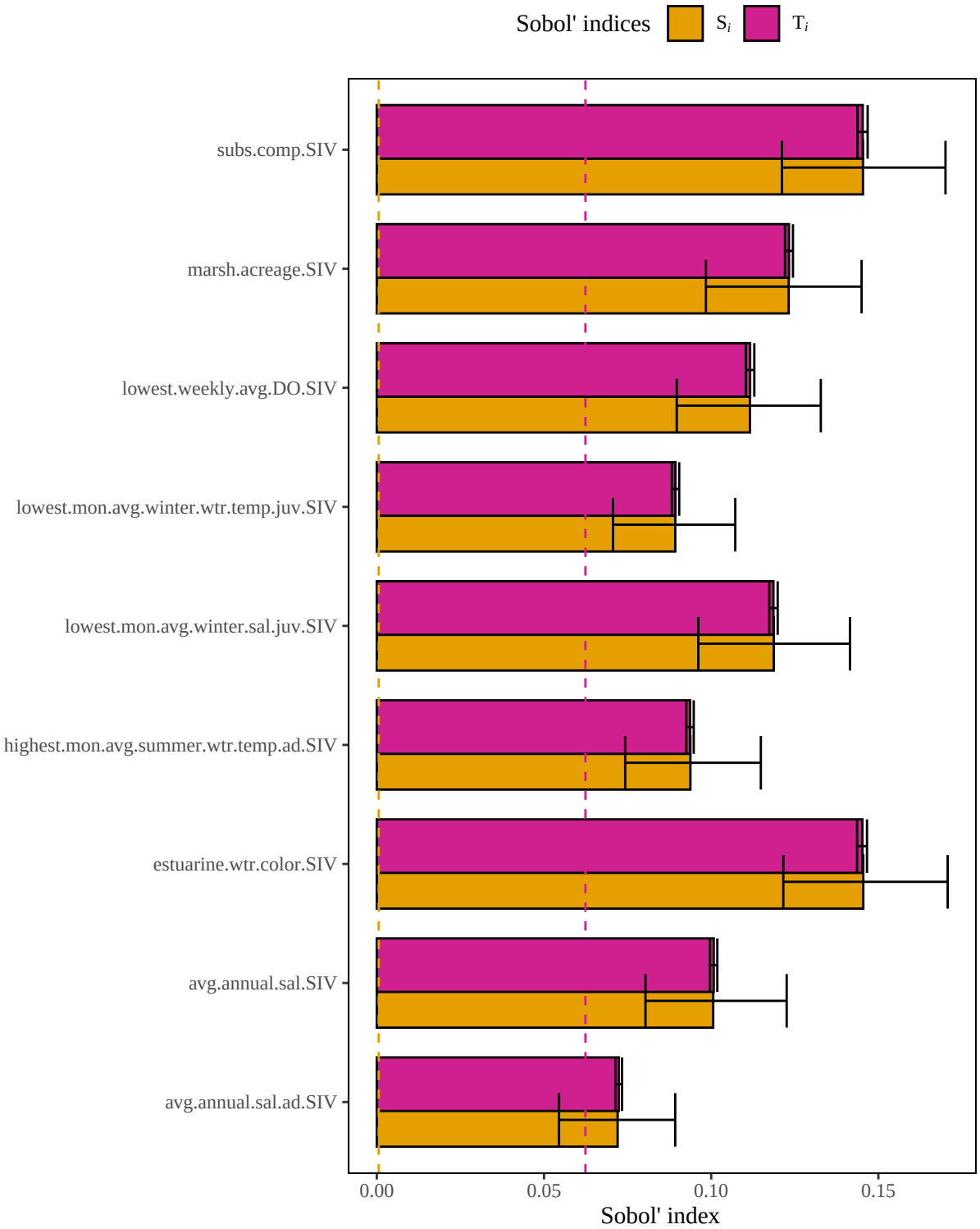


**Figure 4.** Results of a sensitivity analysis for the gulfmenhadenEstuary model based on an arithmetic mean structure. Dashed lines represent baseline numerical approximation error for $S_i$ and $T_i$ (*i.e.*, dummy variables).

**Geometric mean model**

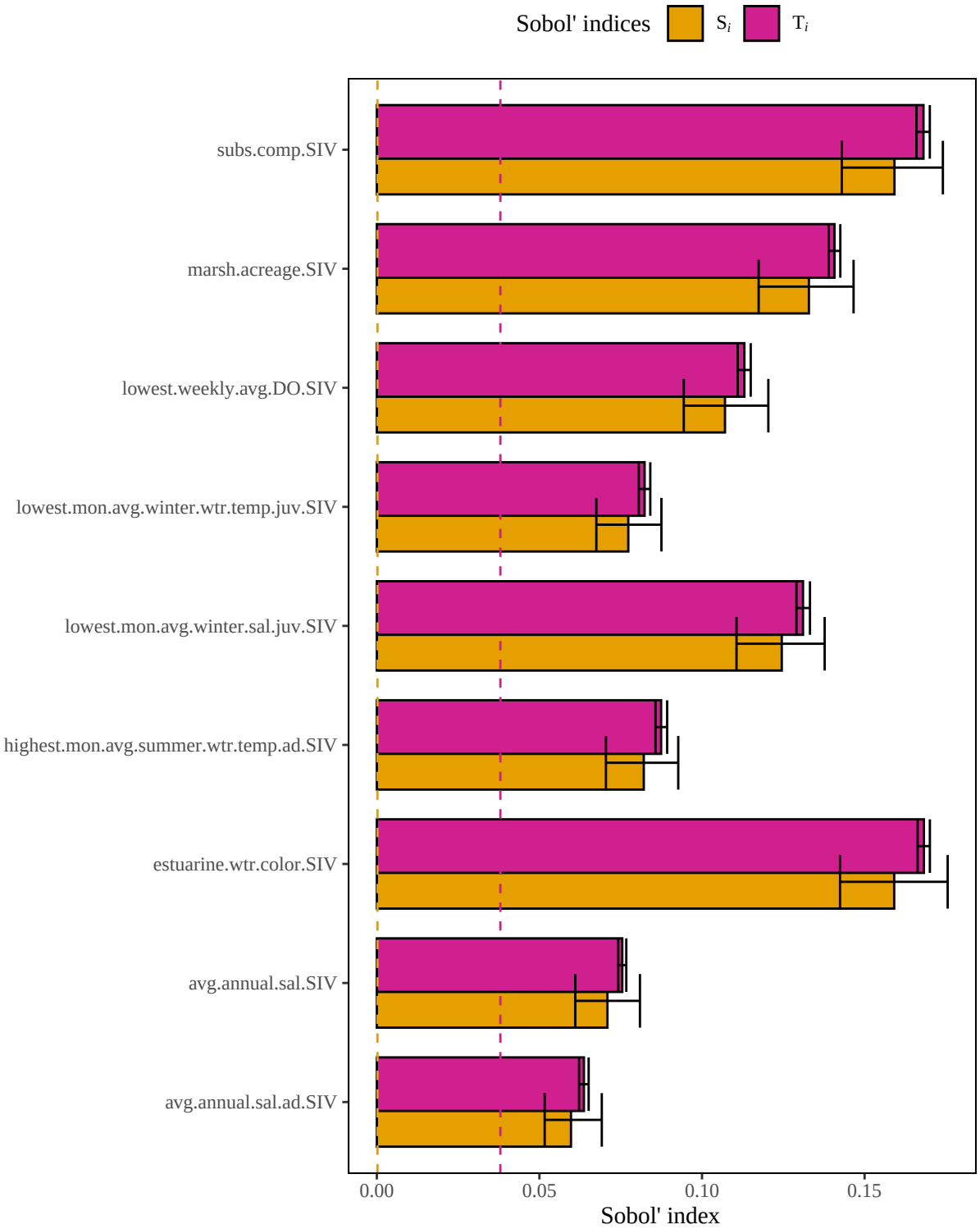


**Figure 5.** Results of a sensitivity analysis for the gulfmenhadenEstuary model based on a geometric mean structure. Dashed lines represent baseline numerical approximation error for $S_i$ and $T_i$ (*i.e.*, dummy variables).

**Limiting factor model**

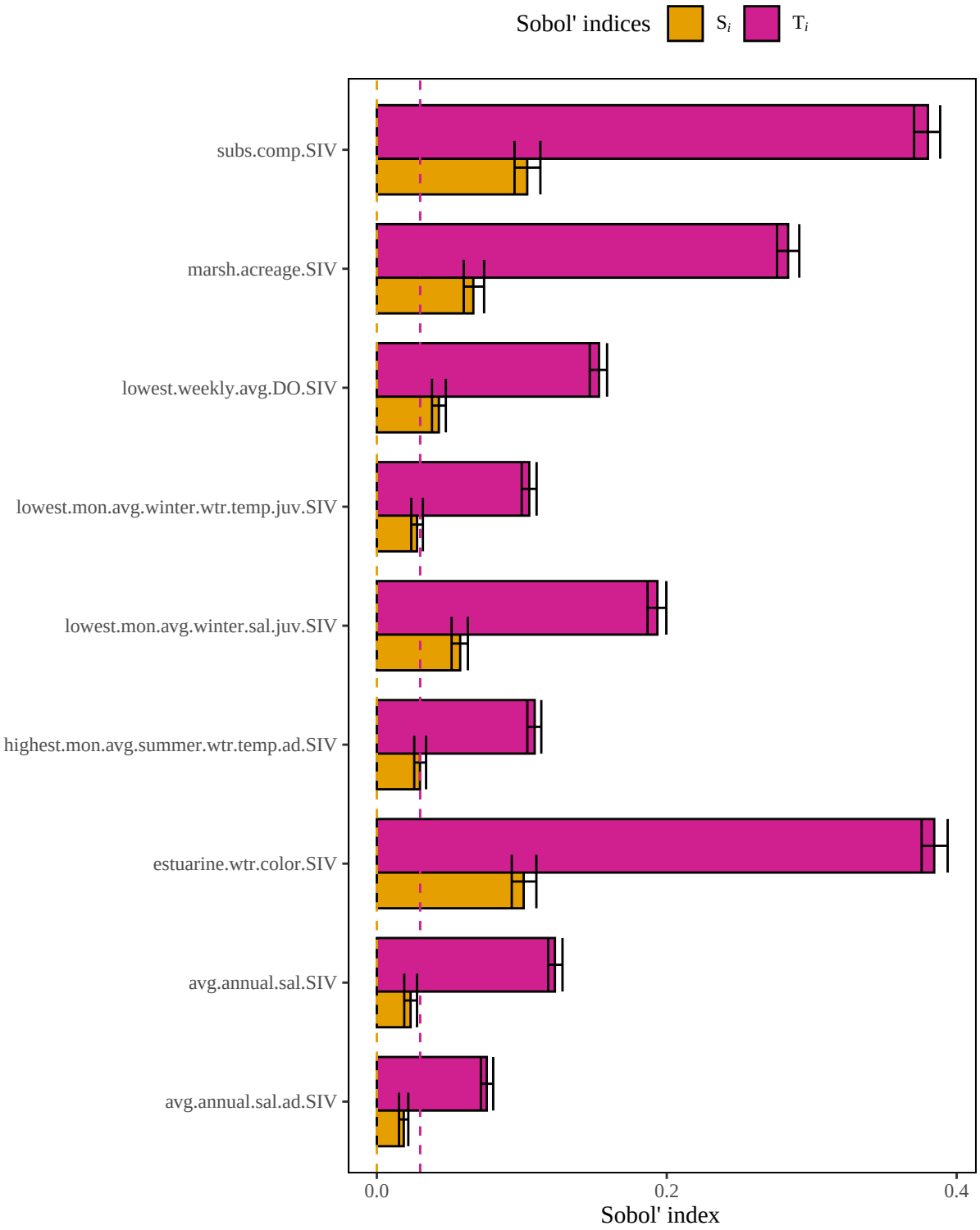


**Figure 6.** Results of a sensitivity analysis for the gulfmenhadenEstuary model based on a limiting factor structure. Dashed lines represent baseline numerical approximation error for $S_i$ and $T_i$ (*i.e.*, dummy variables).

**Multiplicative model**

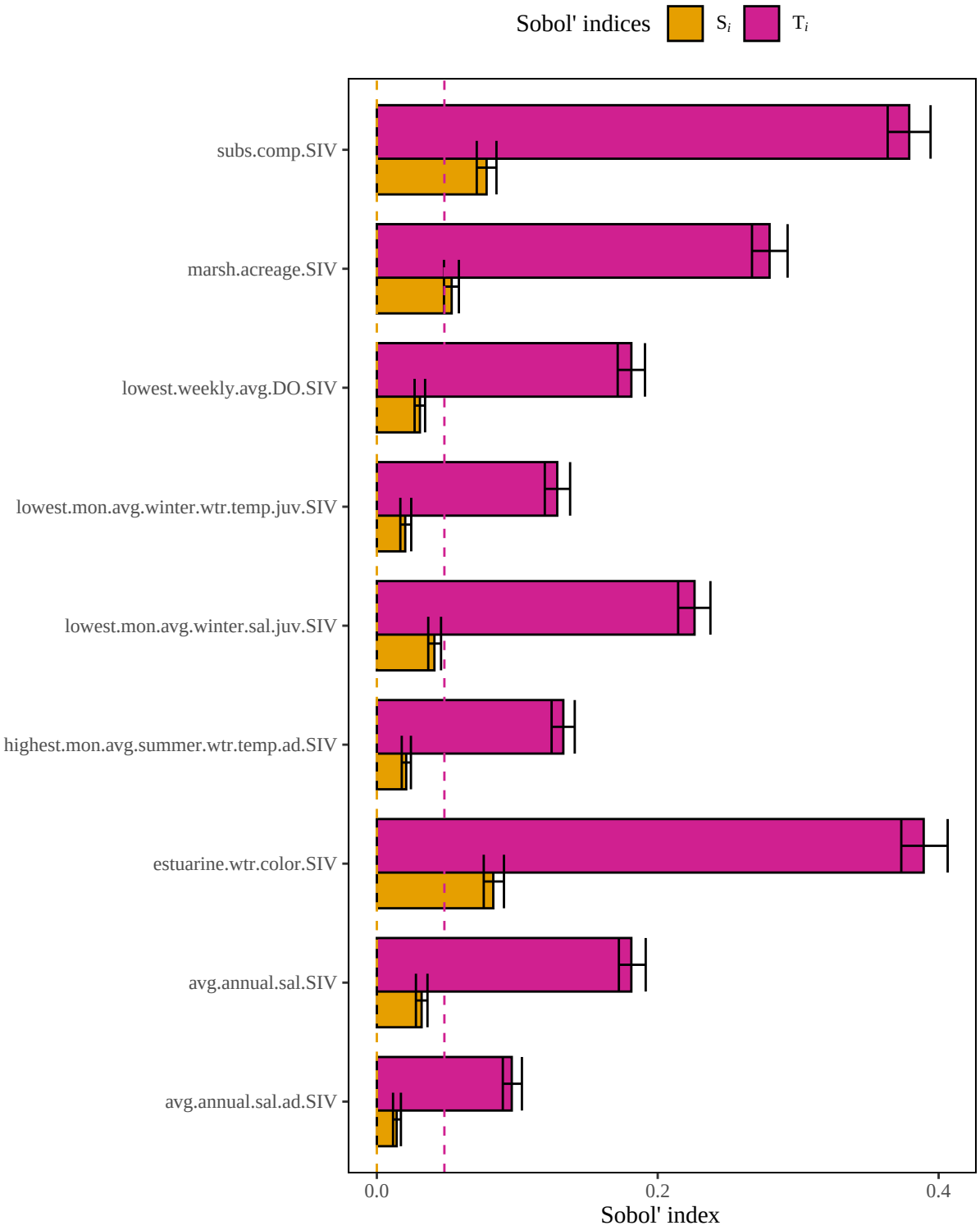


**Figure 7.** Results of a sensitivity analysis for the gulfmenhadenEstuary model based on a multiplicative mean structure. Dashed lines represent baseline numerical approximation error for $S_i$ and $T_i$ (*i.e.*, dummy variables).

**Summary of influential variables**

**Original model** In the **original gulfmenhadenEstuary** model, **4 of 9** variables are influential and **marsh.acreage.SIV** has the highest first order sensitivity. In addition, **marsh.acreage.SIV** has the highest total order sensitivity.

**Un-influential variables in original model:**

```
lowest.mon.avg.winter.wtr.temp.juv.SIV
lowest.mon.avg.winter.sal.juv.SIV
lowest.weekly.avg.DO.SIV
highest.mon.avg.summer.wtr.temp.ad.SIV
avg.annual.sal.ad.SIV
```

**Arithmetic mean model** In the **arithmetic mean gulfmenhadenEstuary** model, **9 of 9** variables are influential and **estuarine.wtr.color.SIV** has the highest first order sensitivity. In addition, **subs.comp.SIV** has the highest total order sensitivity.

**Un-influential variables in arithmetic mean model:**

None

**Geometric mean model** In the **geometric mean gulfmenhadenEstuary** model, **9 of 9** variables are influential and **subs.comp.SIV** has the highest first order sensitivity. In addition, **estuarine.wtr.color.SIV** has the highest total order sensitivity.

**Un-influential variables in geometric mean model:**

None

**Limiting factor model** In the **limiting factor gulfmenhadenEstuary** model, **9 of 9** variables are influential and **subs.comp.SIV** has the highest first order sensitivity. In addition, **estuarine.wtr.color.SIV** has the highest total order sensitivity.

**Un-influential variables in limiting factor mean model:**

None

**Multiplicative model** In the **multiplicative mean gulfmenhadenEstuary** model, **9 of 9** variables are influential and **estuarine.wtr.color.SIV** has the highest first order sensitivity. In addition, **estuarine.wtr.color.SIV** has the highest total order sensitivity.

**Un-influential variables in multiplicative model:**

None

**References**


1. Christmas, JY, JT McBee, RS Waller, and FC Scutter III. 1982. Habitat suitability index models: Gulf menhaden. U.S. Dept. Int. Fish Wildl. Serv. FWS/OBS-82/10.23. 23 pp.
2. McKay S, D Hernandez-Abrams, and K Cushway. 2025. ecorest: conducts analyses informing ecosystem restoration decisions. R package version 2.0.1, https://CRAN.R-project.org/package=ecorest.
3. Puy, A, S Lo Piano, A Saltelli, and SA Levin. 2022. sensobol: an R package to compute variance based sensitivity indices. Journal of Statistical Software 102(5):1-37. doi: 10.18637/jss.v102.i05

4. Sarrazin, F., Pianosi, F., & Wagener, T. (2016). Global sensitivity analysis of environmental models: Convergence and validation. Environmental Modelling & Software, 79, 135–152. https://doi.org/10.1016/j.envsoft.2016.02.005