northernpikeLacVegD model summary

Contents

Overview 2
Variables: 2
Components: 4
Model equation: 4
Global sensitivity and uncertainty analysis: 4
Model uncertainty 4
Model sensitivity 6
Original model 7
Arithmetic mean model 8
Geometric mean model 9
Limiting factor model 10
Multiplicative model 11
Summary of influential variables 12
References 12

Overview

This document summarizes the results of a global sensitivity and uncertainty analysis for the **northernpikeLacVegD** habitat suitability index (HSI) model for *Esox lucius*. Metadata for the model is stored in the ecorest package in R.

The original documentation for this model can be found here[1].

Sub-model: **Lacustrine habitat for northern pike with thinly scattered vegetation or debris and little to no shelter for eggs and fry (Curve D for SIV1)**

The northernpikeLacVegD model is comprised of **10** variables and **0** components.

Variables:

Table 1. SIV variables included in the northernpikeLacVegD model. Type indicates whether a variable is continuous or categorical and breakpoints indicates the number of distinct breakpoints in suitability graphs.

	Variable name	Type	Breakpoints
SIV1	ratio.spwn.hab.to.summer.hab.SIV	continuous	7
SIV2	drop.wtr.lvl.emb.fry.SIV	continuous	11
SIV2B	drop.wtr.lvl.fry.stage.SIV	continuous	13
SIV3	midsummer.area.emerg.or.submerg.aq.veg.max.depth.Ltoe3m.SIV	continuous	11
SIV3B	midsummer.area.emerg.or.submerg.aq.veg.max.depth.Mt3m.SIV	continuous	11
SIV4	TDS.concentration.surface.wtrs.SIV	continuous	15
SIV5	least.suit.pH.spwn.hab.emb.fry.SIV	continuous	13
SIV6	avg.length.frostfree.season.SIV	continuous	16
SIV7	max.weekly.avg.temp.of.surface.layer.Mtoe1.5ppmDO.SIV	continuous	15
SIV7B	max.weekly.avg.temp.of.surface.layer.Lt1.5ppmDO.SIV	continuous	14

[1] https://ecolibrary.sec.usace.army.mil/resource/ac741519-9c6d-46f1-d522-ecab1a247481

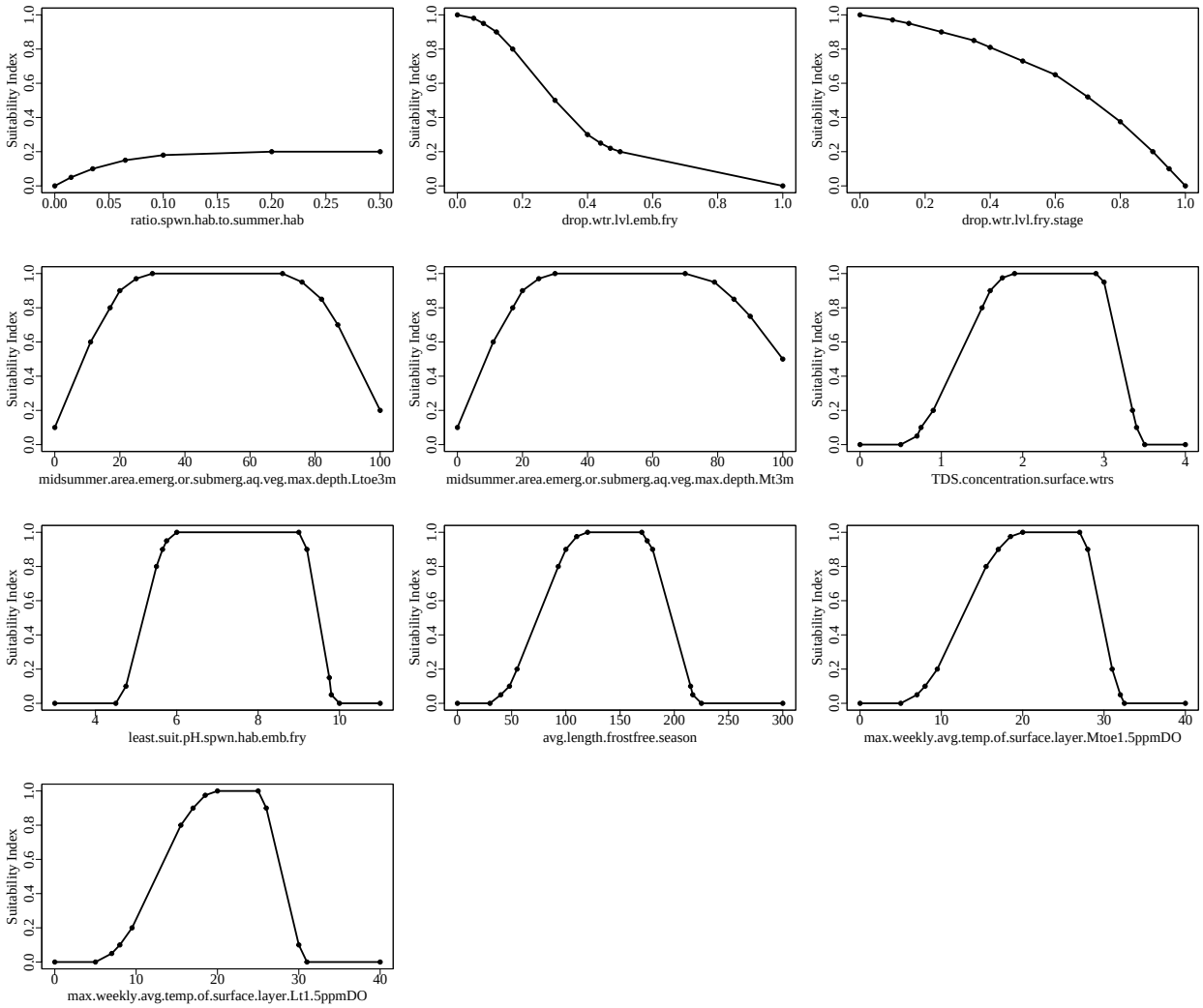

Figure 1. Suitability index graphs for variables included in the northernpikeLacVegD model in ecorest.

Components:

```
This HSI model contains no components.
```

Model equation:

The equation to calculate an overall HSI index for the northernpikeLacVegD model is:

min(SIV1,SIV2,SIV2B,SIV3,SIV3B,SIV4,SIV5,SIV6,SIV7,SIV7B,na.rm=T)

According to our classification, this model's format is: **limiting factor**

Global sensitivity and uncertainty analysis:

We ran global sensitivity and uncertainty analyses on the northernpikeLacVegD model using the sensobol package in R (Puy et al. 2022). The following parameters were used for the sensobol analysis:

Table 2. Parameters and settings used for sensobol sensitivity and uncertainty analyses.

Parameter	Equation	Value
Number of input variables (M)	-	10
Base sample size (n)	-	75000
Number of model evaluations (N)	n*(M+2)	900000
First order estimator	See Puy et al. (2022)	Saltelli
Total order estimator	See Puy et al. (2022)	Jansen
Number of bootstrap replications	-	1000
Sampling scheme	-	Quasi-random
Matrices	-	A, B, AB

We ran a sensitivity and uncertainty analysis for the northernpikeLacVegD model using the original equation outlined in the documentation from Inskip (1982) and using arithmetic mean, geometric mean, limiting factor, and multiplicative equations to contrast the results across different equation structures.

Model uncertainty

We ran the northernpikeLacVegD model using 900000 combinations of its SIV variables, which were sampled from a uniform distribution spanning the range of possible values listed in the northernpikeLacVegD documentation. We limited the range of possible values for each parameter to the range in which the SIV values were greater than zero to prevent HSI score distributions with primarily zero values.

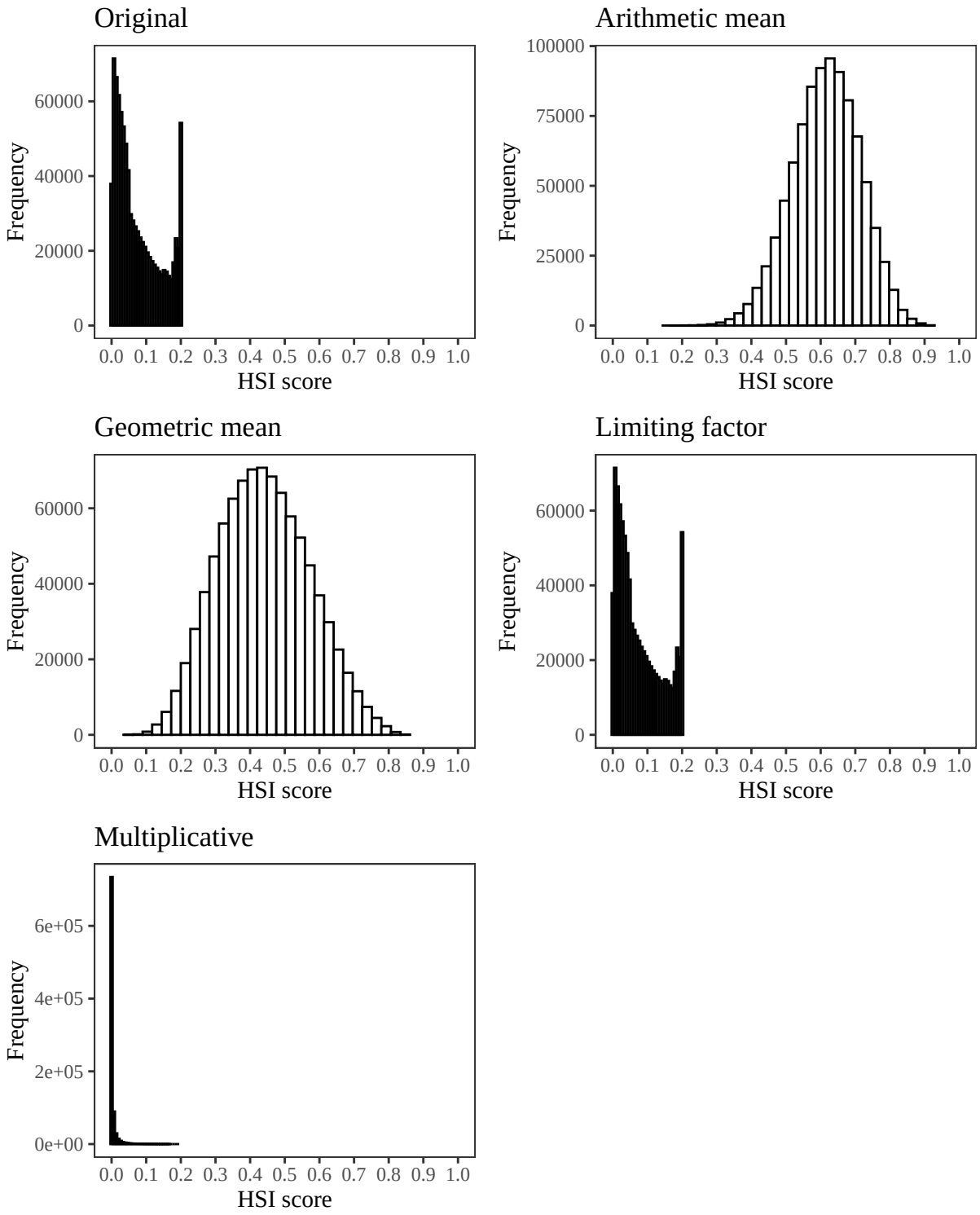

Figure 2. Empirical distributions of HSI scores for the northernpikeLacVegD model using the original limiting factor model equation from Inskip (1982), and an arithmetic mean, geometric mean, limiting factor, and multiplicative structure incorporating all SIV variables. Note differences in the y axis.

We assumed a uniform distribution for all parameters because we evaluated all ecorest models in batch. Should you decide to run your own sensitivity analysis, this assumption should be evaluated independently for each parameter in the model.

Table 3. Quantiles from the empirical distribution of HSI scores for the original northernpikeLacVegD model structure, an arithmetic mean equation, a geometric mean equation, a limiting factor equation, and a multiplicative equation structure.

	1%	**2.5%**	**5%**	**25%**	**50%**	**75%**	**95%**	**97.5%**	**99%**	**100%**
Original	0.00	0.00	0.00	0.02	0.05	0.12	0.20	0.20	0.20	0.20
Arithmetic	0.38	0.42	0.45	0.55	0.62	0.68	0.77	0.80	0.82	0.92
Geometric	0.17	0.20	0.23	0.34	0.44	0.53	0.67	0.70	0.74	0.85
Limiting	0.00	0.00	0.00	0.02	0.05	0.12	0.20	0.20	0.20	0.20
Multiplicative	0.00	0.00	0.00	0.00	0.00	0.00	0.02	0.03	0.05	0.19

Generally, models with outputs that span the entire range of possible outcomes (*i.e.*, 0-1) may be better at discriminating between different restoration actions or across habitat quality. The empirical distribution of HSI scores can also provide you with information about whether HSI scores for a given model tend to be skewed (*e.g.*, many low scores and few high scores, uniform probability of obtaining scores from 0-1, *etc.*)

Model sensitivity

Below are the results of the global sensitivity analysis for the northernpikeLacVegD model using the original equation, an arithmetic mean, a geometric mean, a limiting factor, and a multiplicative model structure. The sensobol package uses variance-based sensitivity metrics, so the model's sensitivity to a given parameter is a measure of how much variance in the HSI score decreases in response to that parameter being fixed (Puy et al. 2022). For each parameter, the observed changes in the variance of the HSI score can be described with a first order sensitivity index (S_i) that accounts for the influence of a single parameter of interest on variance in HSI, or with a total order index (T_i) that accounts for the influence of a single parameter on its own and in combination with all other parameters (*i.e.*, interactions) (Puy et al. 2022). We can compare the 95% confidence intervals for the first and total order indices to a dummy parameter, which represents a parameter that has no influence on the variance in a model's output. While an uninfluential variable should theoretically have an S_i and T_i of zero, small approximation errors can lead variables to have a non-zero influence on a model's output (Puy et al. 2022). If the confidence interval of the S_i and T_i index for a given parameter overlaps the confidence interval of the dummy parameter, we can deduce that the parameter has a negligible effect on variance in HSI scores, both on its own and in combination with all other variables.

To ensure that the results of our sensitivity analysis converged, we determined whether the range of the 95% confidence interval for each sensitivity index was less than or equal to 0.05 (Sarrazin et al., 2016). Models that did not converge should be interpreted with caution.

Table 4. Model convergence records for the original northernpikeLacVegD model structure, an arithmetic mean equation, a geometric mean equation, a limiting factor equation, and a multiplicative equation structure.

	Did the model converge? (T/F)
Original	TRUE
Arithmetic	TRUE
Geometric	TRUE
Limiting	TRUE
Multiplicative	TRUE

Original model

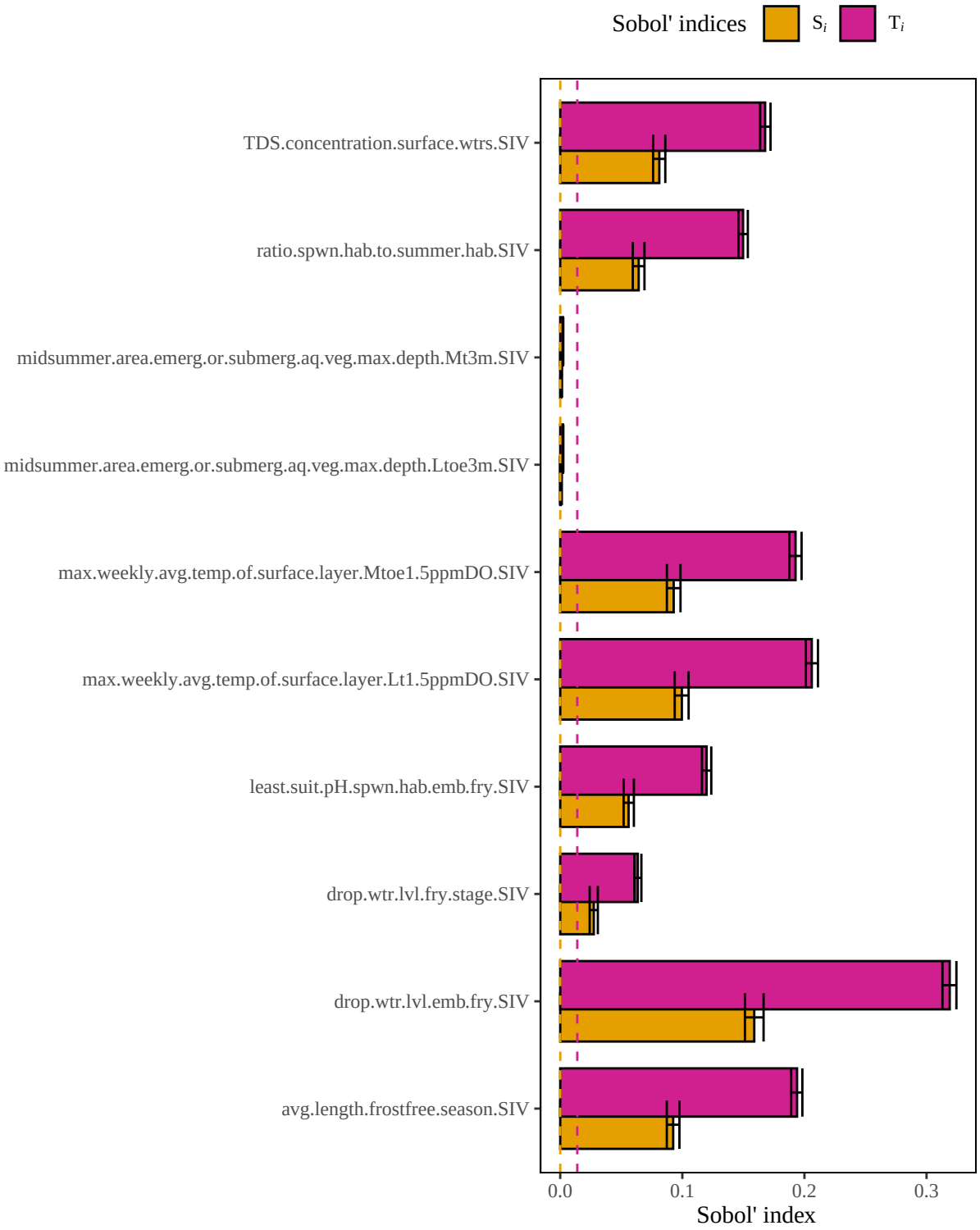

Figure 3. Results of a sensitivity analysis for the northernpikeLacVegD model based on the original limiting factor model outlined in Inskip (1982). Dashed lines represent baseline numerical approximation error for S_i and T_i (*i.e.*, dummy variables).

Arithmetic mean model

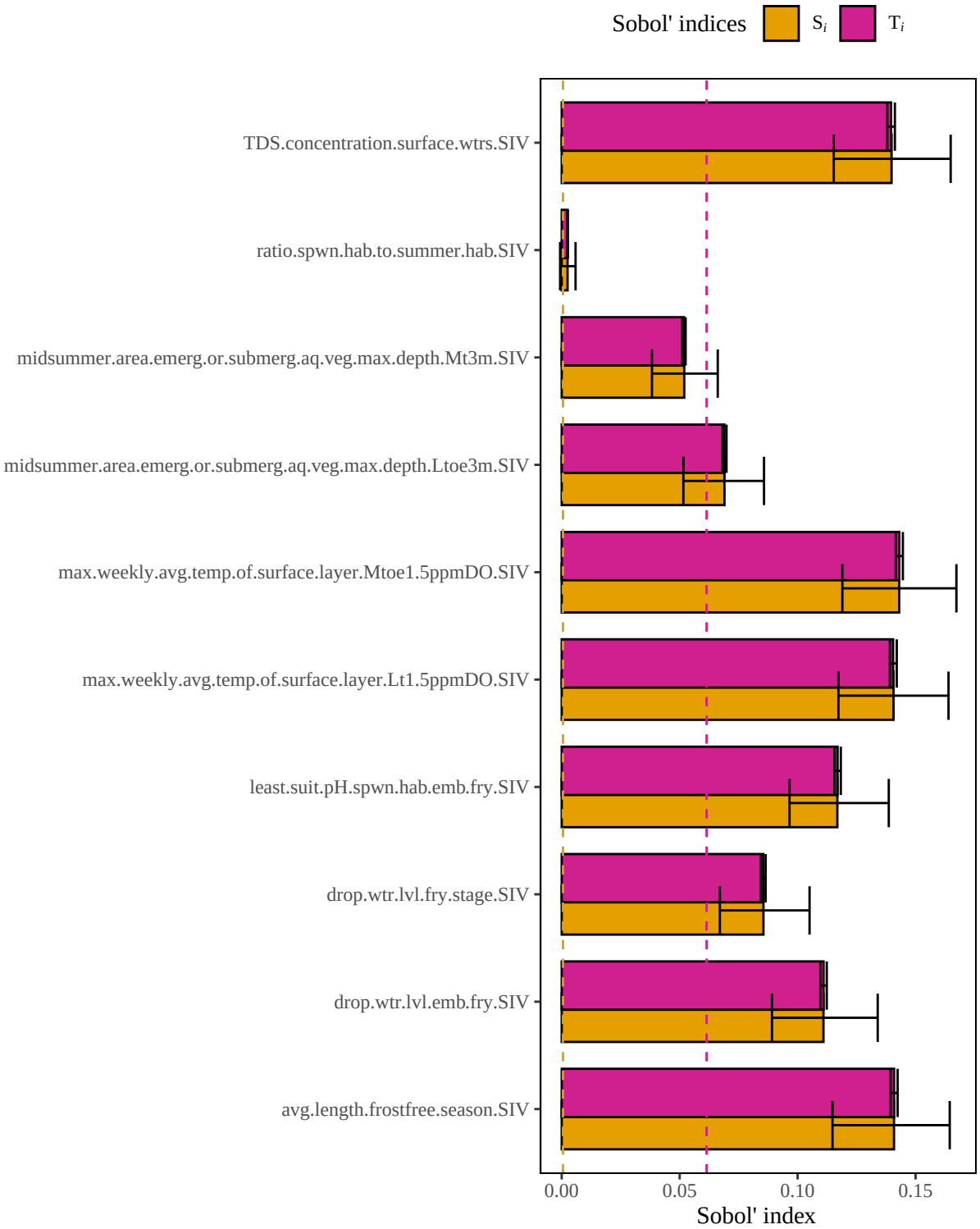

Figure 4. Results of a sensitivity analysis for the northernpikeLacVegD model based on an arithmetic mean structure. Dashed lines represent baseline numerical approximation error for S_i and T_i (*i.e.*, dummy variables).

Geometric mean model

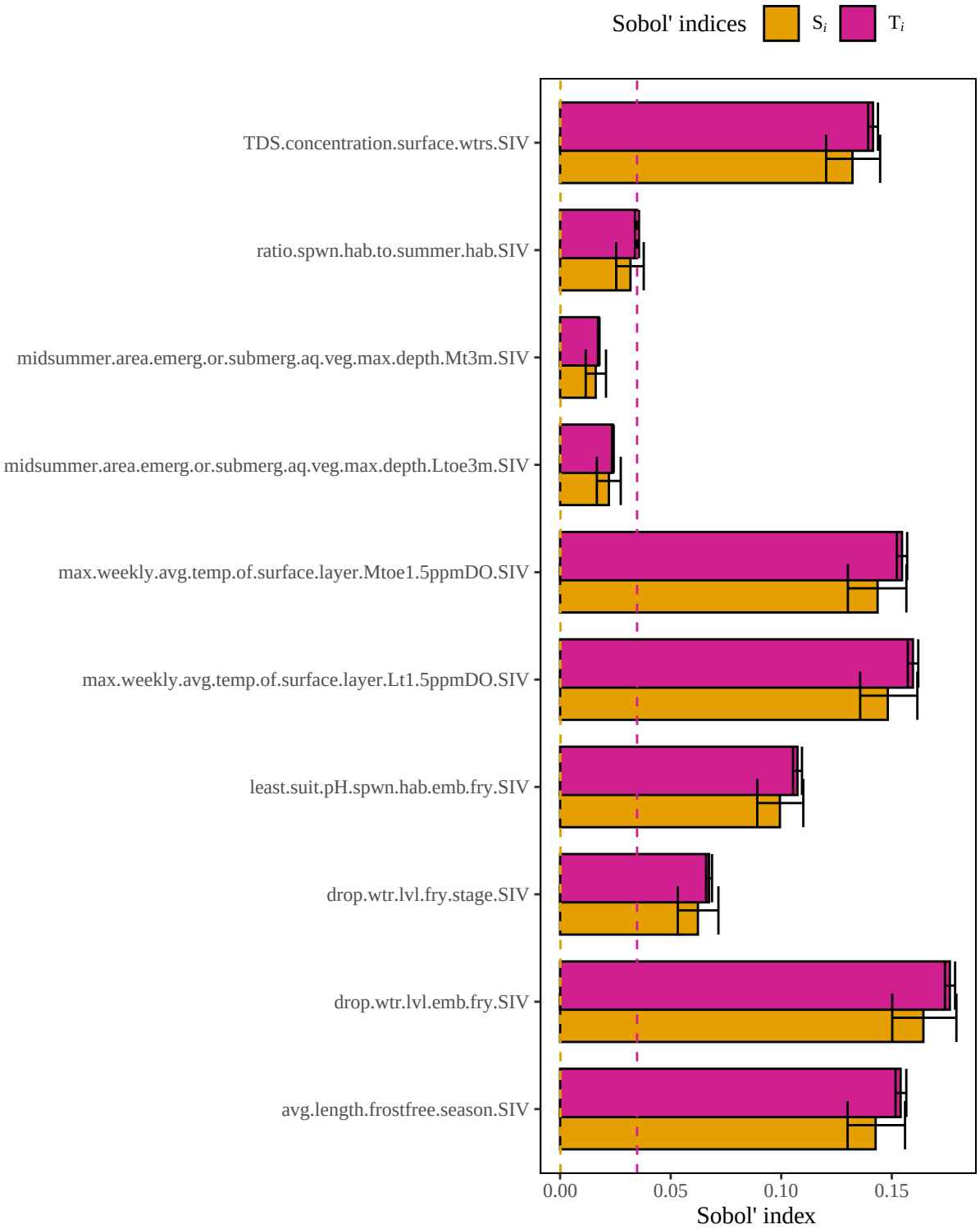

Figure 5. Results of a sensitivity analysis for the northernpikeLacVegD model based on a geometric mean structure. Dashed lines represent baseline numerical approximation error for S_i and T_i (*i.e.*, dummy variables).

Limiting factor model

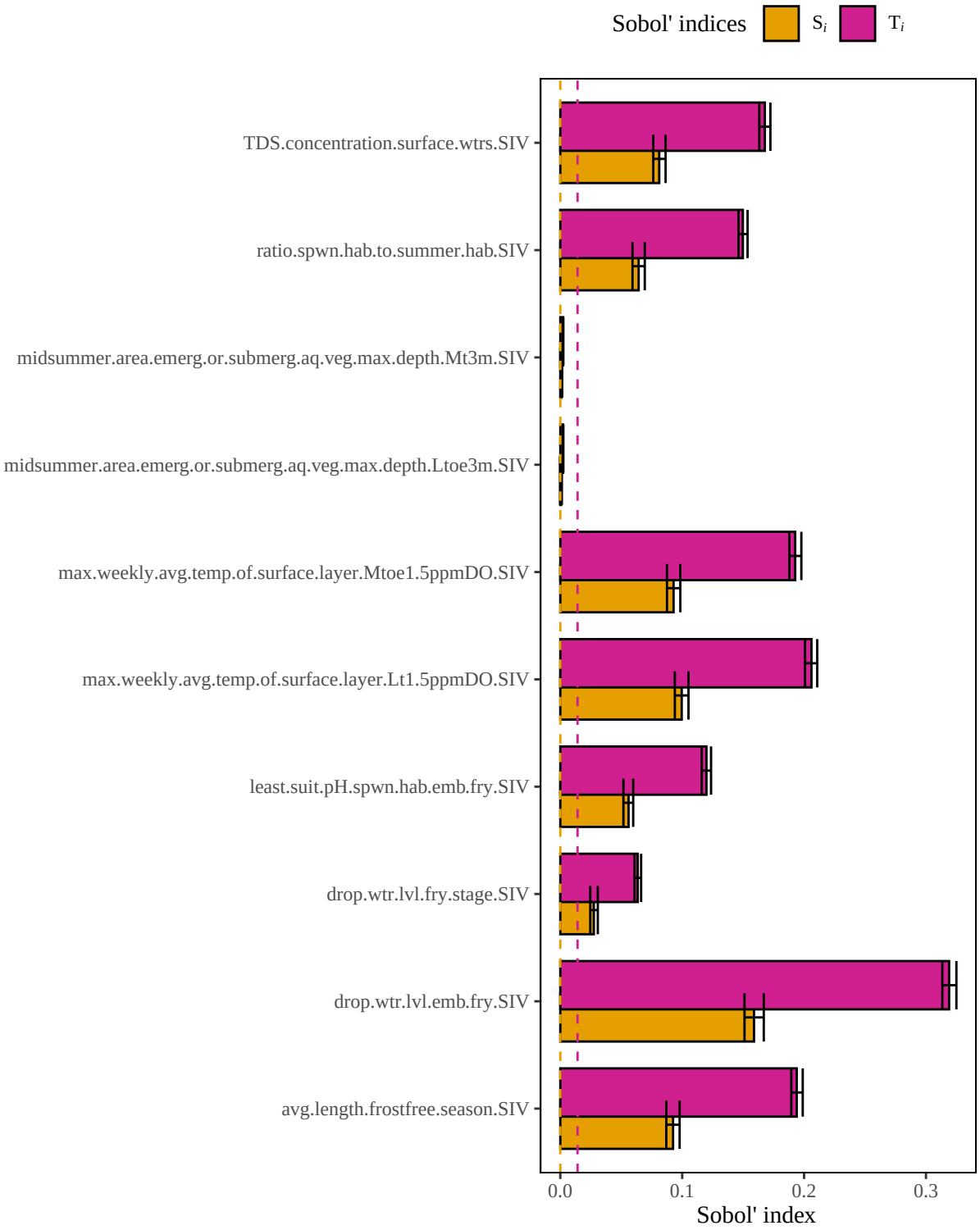

Figure 6. Results of a sensitivity analysis for the northernpikeLacVegD model based on a limiting factor structure. Dashed lines represent baseline numerical approximation error for S_i and T_i (*i.e.*, dummy variables).

Multiplicative model

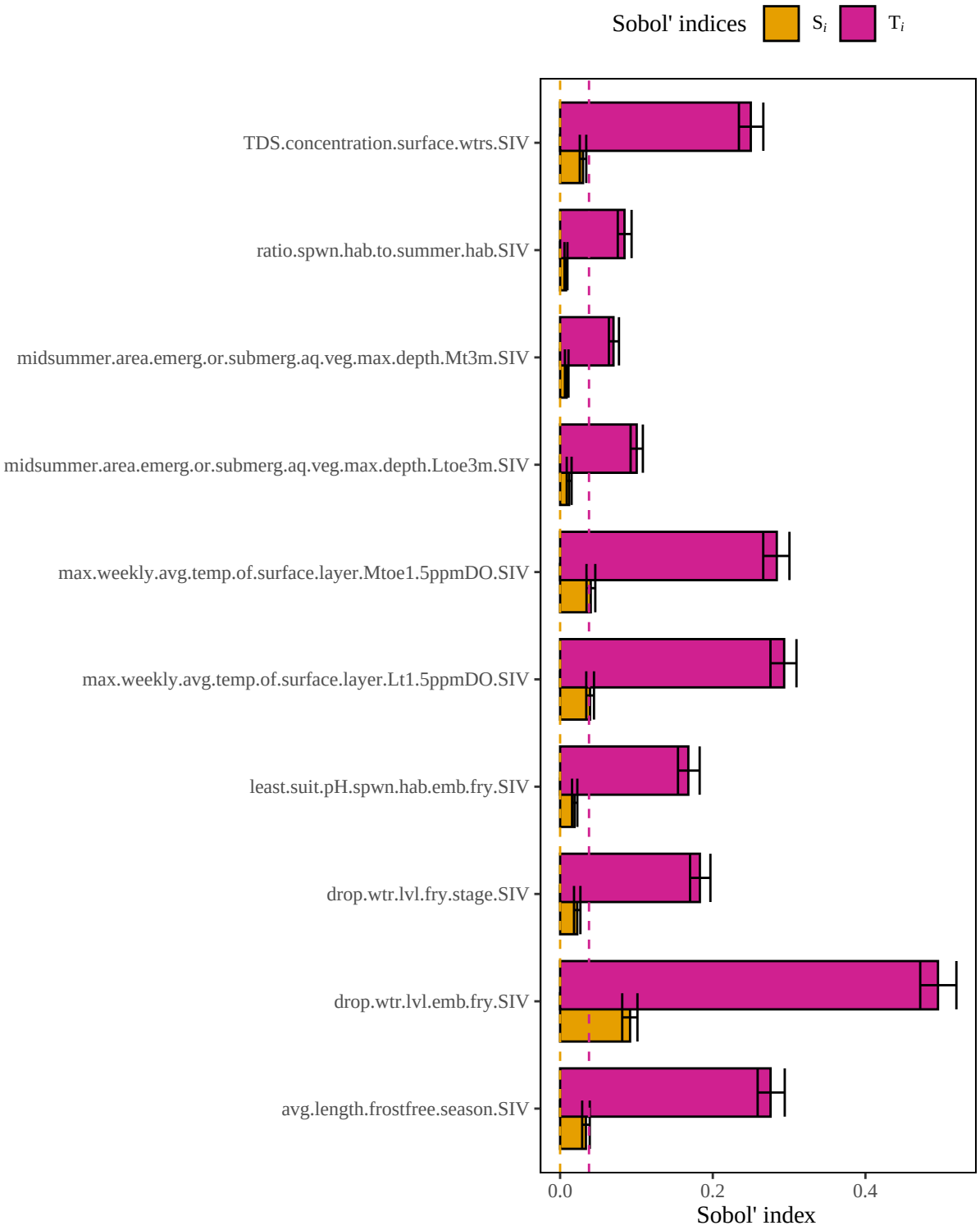

Figure 7. Results of a sensitivity analysis for the northernpikeLacVegD model based on a multiplicative mean structure. Dashed lines represent baseline numerical approximation error for S_i and T_i (*i.e.*, dummy variables).

Summary of influential variables

Original model In the **original northernpikeLacVegD** model, **8 of 10** variables are influential and **drop.wtr.lvl.emb.fry.SIV** has the highest first order sensitivity. In addition, **drop.wtr.lvl.emb.fry.SIV** has the highest total order sensitivity.

Un-influential variables in original model:

```
midsummer.area.emerg.or.submerg.aq.veg.max.depth.Ltoe3m.SIV
midsummer.area.emerg.or.submerg.aq.veg.max.depth.Mt3m.SIV
```

Arithmetic mean model In the **arithmetic mean northernpikeLacVegD** model, **8 of 10** variables are influential and **max.weekly.avg.temp.of.surface.layer.Mtoe1.5ppmDO.SIV** has the highest first order sensitivity. In addition, **max.weekly.avg.temp.of.surface.layer.Mtoe1.5ppmDO.SIV** has the highest total order sensitivity.

Un-influential variables in arithmetic mean model:

```
ratio.spwn.hab.to.summer.hab.SIV
midsummer.area.emerg.or.submerg.aq.veg.max.depth.Mt3m.SIV
```

Geometric mean model In the **geometric mean northernpikeLacVegD** model, **7 of 10** variables are influential and **drop.wtr.lvl.emb.fry.SIV** has the highest first order sensitivity. In addition, **drop.wtr.lvl.emb.fry.SIV** has the highest total order sensitivity.

Un-influential variables in geometric mean model:

```
ratio.spwn.hab.to.summer.hab.SIV
midsummer.area.emerg.or.submerg.aq.veg.max.depth.Ltoe3m.SIV
midsummer.area.emerg.or.submerg.aq.veg.max.depth.Mt3m.SIV
```

Limiting factor model In the **limiting factor northernpikeLacVegD** model, **8 of 10** variables are influential and **drop.wtr.lvl.emb.fry.SIV** has the highest first order sensitivity. In addition, **drop.wtr.lvl.emb.fry.SIV** has the highest total order sensitivity.

Un-influential variables in limiting factor mean model:

```
midsummer.area.emerg.or.submerg.aq.veg.max.depth.Ltoe3m.SIV
midsummer.area.emerg.or.submerg.aq.veg.max.depth.Mt3m.SIV
```

Multiplicative model In the **multiplicative mean northernpikeLacVegD** model, **10 of 10** variables are influential and **drop.wtr.lvl.emb.fry.SIV** has the highest first order sensitivity. In addition, **drop.wtr.lvl.emb.fry.SIV** has the highest total order sensitivity.

Un-influential variables in multiplicative model:

None

References

1. Inskip, PD. 1982. Habitat suitability index models: Northern pike. U.S. Dept. Int., Fish Wildl. Serv. FWS/OBS-82/10.17. 40 pp.
2. McKay S, D Hernandez-Abrams, and K Cushway. 2025. ecorest: conducts analyses informing ecosystem restoration decisions. R package version 2.0.1, https://CRAN.R-project.org/package=ecorest.

3. Puy, A, S Lo Piano, A Saltelli, and SA Levin. 2022. sensobol: an R package to compute variance based sensitivity indices. Journal of Statistical Software 102(5):1-37. doi: 10.18637/jss.v102.i05
4. Sarrazin, F., Pianosi, F., & Wagener, T. (2016). Global sensitivity analysis of environmental models: Convergence and validation. Environmental Modelling & Software, 79, 135–152. https://doi.org/10.1016/j.envsoft.2016.02.005